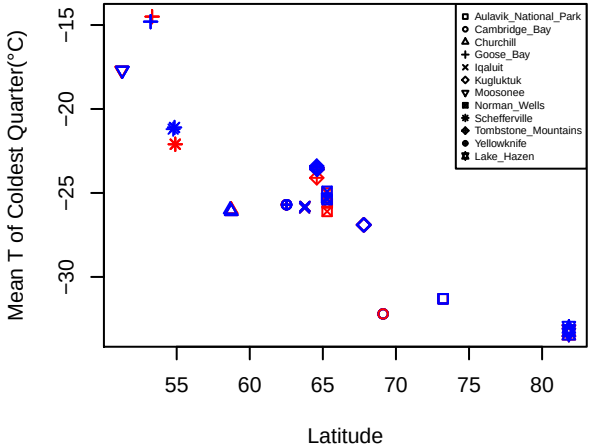
Mean T of Coldest Quarter(°C)
−15
−20
−25
−30
55
60
65
70
75
80
Latitude
Aulavik_National_Park
Cambridge_Bay
Churchill
Goose_Bay
Iqaluit
Kugluktuk
Moosonee
Norman_Wells
Schefferville
Tombstone_Mountains
Yellowknife
Lake_Hazen

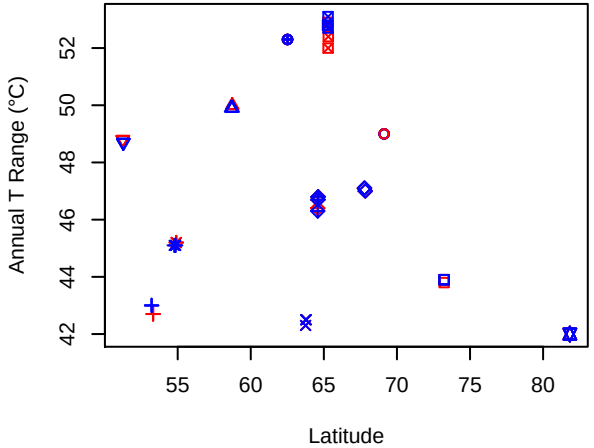
Annual T Range (°C)
42
44
46
48
50
52
55
60
65
70
75
80
Latitude

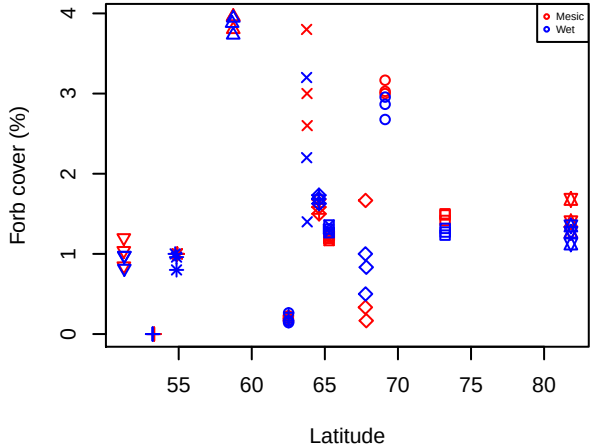
Forb cover (%)
0
1
2
3
4
55
60
65
70
75
80
Latitude
Mesic
Wet